Troop 3A Tactical Traffic Report | Q2 2021–2025

Prepared by Justynn Hammond

Scope: April–June crash data provided in the Colorado State Patrol exercise workbook. All findings below are grounded only in the supplied dataset.

Executive view. I analyzed 1,909 Q2 crashes for Troop 3A across 2021–2025. Crash volume increased from 336 in 2021 to 438 in 2025 (+30.4%). The dataset contains 42 fatal crashes and 420 fatal-or-injury crashes. The most important operational split is between volume and severity: I-25 carries the largest crash volume by a wide margin, but several non-interstate corridors carry a materially higher severe-crash rate and need a different enforcement posture.

What stood out most. I-25 dominates total crash activity, especially MP 230–254, where five separate 5-mile bands appear in the top hotspot list. By contrast, Highway 85, Highway 392, Highway 14, Highway 52, and I-76 produce fewer total crashes but a meaningfully higher fatal/injury share. Following too closely is the largest volume factor, while impaired driving is the strongest severe-crash driver in the dataset.

Core metrics

Total crashes	Fatal	Injury involved	Fatal/Injury	2025 volume
1,909	42	392	420	438

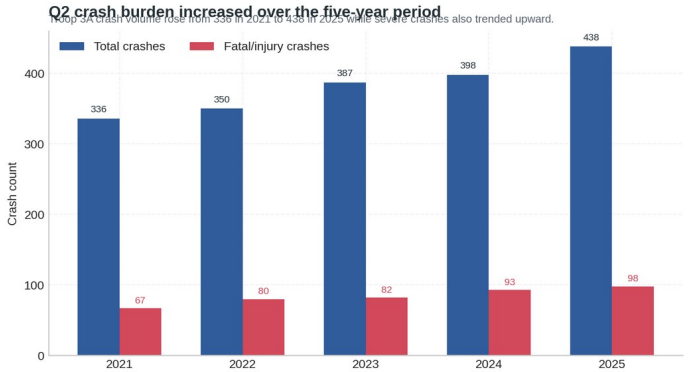

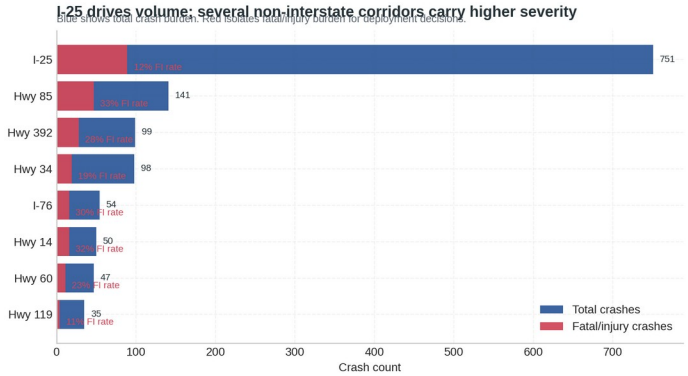

Priority corridors

Corridor	Crashes	Fatal/Injury	FI Rate	Read of the data
I-25	751	89	11.9%	Primary volume problem; focus on congestion, following distance, lane control.
Hwy 85	141	47	33.3%	Most important severe corridor after I-25; impairment and inattention stand out.
Hwy 392	99	28	28.3%	Yield/right-of-way and inattention pattern near

				crossing points.
Hwy 34	98	19	19.4%	Meaningful volume; watch impaired and inattention pockets.
I-76	54	16	29.6%	Lower volume but elevated severity; fatigue/asleep pattern is visible.

Hotspots and timing

The heaviest concentration of crashes is on I-25 MP 230–254, led by MP 250–254 (229 crashes, 25 fatal/injury), MP 245–249 (179, 18), and MP 240–244 (130, 16). Outside I-25, the strongest hotspots are Hwy 85 MP 235–239 / 255–259 / 270–274, Hwy 392 MP 110–119, Hwy 60 MP 15–19, and I-76 MP 45–54. Afternoon and PM-peak hours generate the highest crash counts, but overnight hours carry the highest fatal/injury rate. Thursday and Friday produce the highest total burden in this dataset.

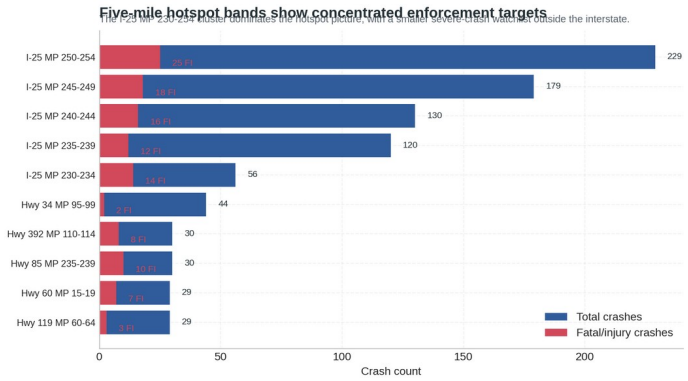

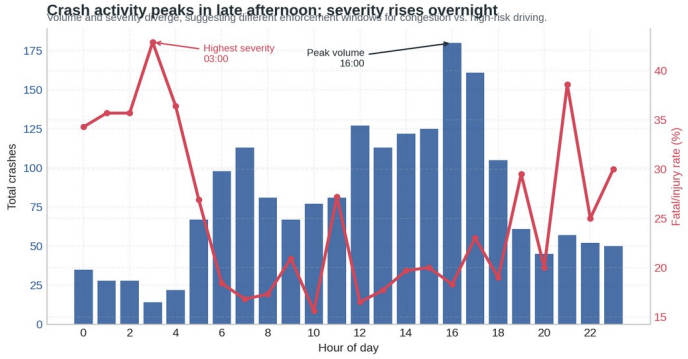

Factor-driven enforcement readout

Following too closely drives 462 crashes overall and is concentrated heavily on I-25. Impaired driving accounts for 164 crashes but 76 fatal/injury crashes, including 17 fatal crashes, making it the clearest high-severity factor. Failed to yield right of way (166 crashes, 62 fatal/injury) and disregard of stop sign/traffic device (43 crashes, 19 fatal/injury) point to targeted intersection and crossing enforcement on non-interstate routes.

Operational actions I would brief to the Troop Commander

- I would prioritize saturation patrols and spacing/lane-discipline enforcement on I-25 MP 230–254 during the 1400–1800 window, because that corridor is the dominant volume problem.

- I would deploy high-visibility DUI and inattentive-driving enforcement on Highway 85, especially in the 1500–1700 and nighttime windows, because that road carries a much higher severe-crash share than I-25.

- I would use focused right-of-way and traffic-control compliance enforcement on Highway 392, Highway 60, and selected county-road junctions, because the causal-factor profile points to crossing conflict rather than pure congestion.

- I would consider speed feedback trailers, portable message boards, or short-duration directed enforcement details at recurring hotspot segments. The dataset supports these as operational hypotheses, not as guaranteed causal fixes.